



























### Option 1:

-  Designated Municipal Truck Route
-  Designated Municipal Truck Route with Restrictions
-  Federal Road with No Truck Travel Restrictions
-  Municipal Road with No Truck Travel Restriction
-  Port Restricted Access
-  Provincial Highway
-  Truck Travel Restriction or Prohibition
-  *all other routes*
  
-  MRN
  
-  *Term Permit Routes*
  
-  Overall Height (OAH) up to 4.88 m
-  Gross Vehicle Weight (GVW) up to 80,000 kg
-  Gross Vehicle Weight (GVW) up to 125,000 kg
-  Gross Vehicle Weight (GVW) up to 85,000 kg
-  Overall Width (OAW) up to 5.00 m

### Option 2:

-  Designated Municipal Truck Route
-  Designated Municipal Truck Route with Restrictions
-  Federal Road with No Truck Travel Restrictions
-  Municipal Road with No Truck Travel Restriction
-  Port Restricted Access
-  Provincial Highway
-  Truck Travel Restriction or Prohibition
  
-  MRN
  
-  *Term Permit Routes*
  
-  Overall Height (OAH) up to 4.88 m
-  Gross Vehicle Weight (GVW) up to 80,000 kg
-  Gross Vehicle Weight (GVW) up to 125,000 kg
-  Gross Vehicle Weight (GVW) up to 85,000 kg
-  Overall Width (OAW) up to 5.00 m

ND: I favour Option 2 because the thinner base lines look cleaner to me. My only suggestion is that for Designated Muni Truck Route with Restrictions perhaps the dotted line could be orange or red to suggest "Restriction".